ROAD TRAFFIC INCIDENTS – MARCH 2026

During the month of March 2026, a total of 1.580 emergency service requests related to traffic incidents were recorded and 1.953 patients were assisted.

The most frequent type of incident was car-motorcycle collisions (25,04%), followed by motorcycle falls (11,26%) and car-to-car collisions (9,01%), while pedestrian run-overs rank fourth (8,81%) (Figure 1)

F 1

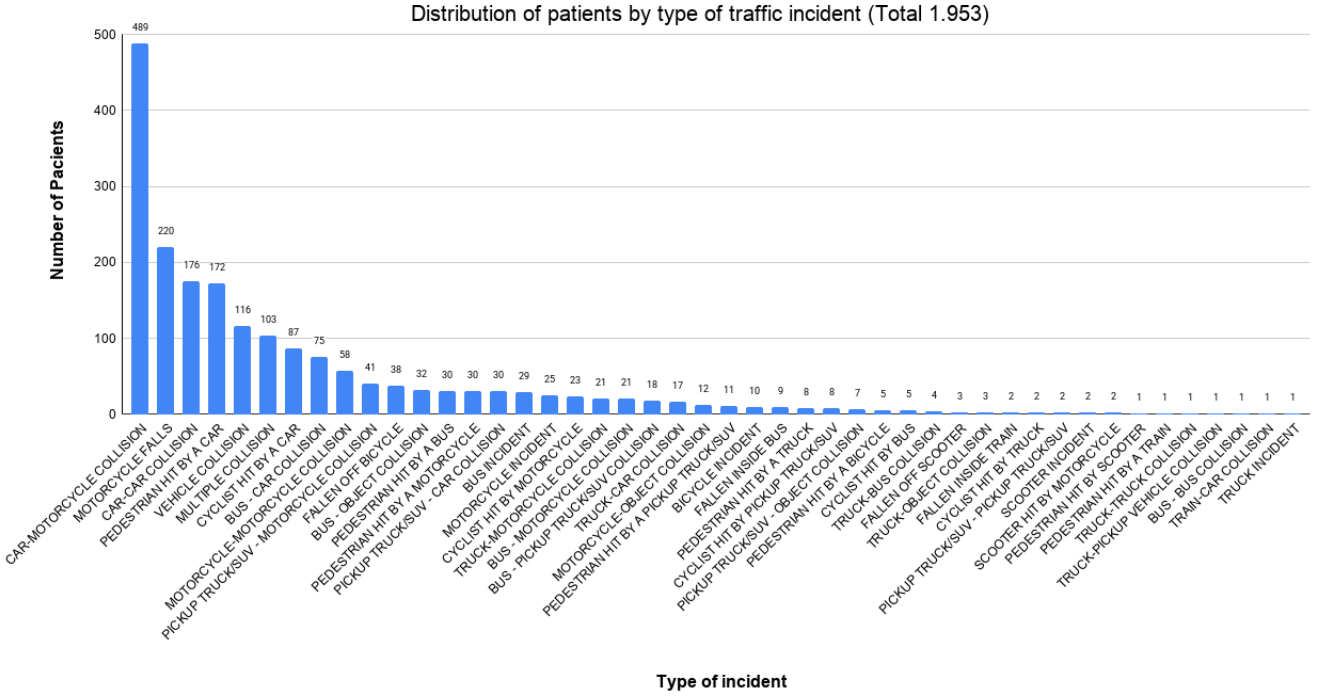

Of the total recorded incidents, those involving motorcycles accounted for 960 cases (42,8%), followed by passenger cars with 897 cases (40,0%), while pedestrian and cyclists run-overs represented 387 cases (17,2%). (Figure 2)

F 2

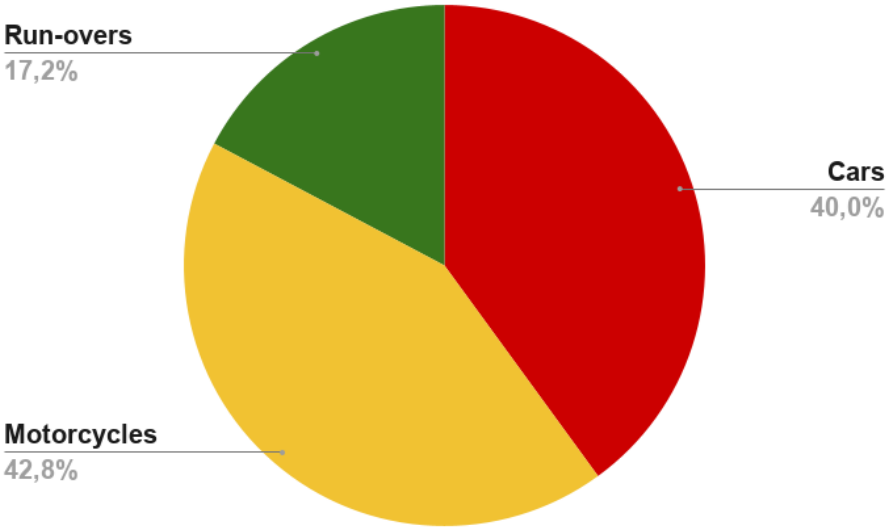

INCIDENT FREQUENCY BY DAY AND HOUR

The peak incidence of traffic incidents was recorded on fridays between 20h and 22h. This distribution on fridays during this period suggests a correlation with population dynamics during the month of March.

Data shown represent monthly averages considering day of the week, time of day, and incident frequency. (Figure 3)

F 3

Heat Map

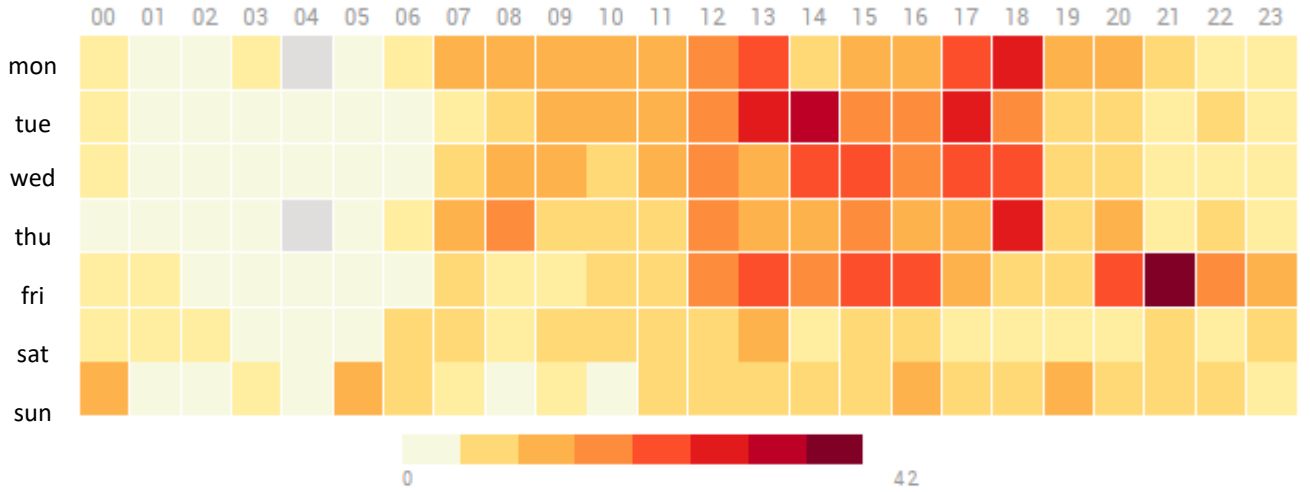

- Minimum 0. Day: Mon. Hour: 04.
- Maximum 42. Day: Fri. Hour: 21.

INCIDENT MAP

The highest incidence of traffic incidents was observed in the following communes (administrative districts) of Buenos Aires City.

- Commune 1 (Retiro, Constitución, Monserrat, San Nicolas, Puerto Madero);
- Commune 4 (La Boca, Barracas, Parque Patricios e Nueva Pompeya);
- Commune 14 (Palermo);
- Commune 3 (Balvanera, San Cristóbal);
- Commune 9 (Liniers, Mataderos, Parque Avellaneda).

INTERACTIVE MAP

This interactive map illustrates traffic incidents recorded during the month of March. It was developed using geospatial data sourced from the Integrated Public Safety System (SISeP), comprising road incidents occurring between March 1 and March 31, 2026.

To access the interactive map (Figure 4), please click on the following link:
https://goo.su/OcoOw1B

F 4

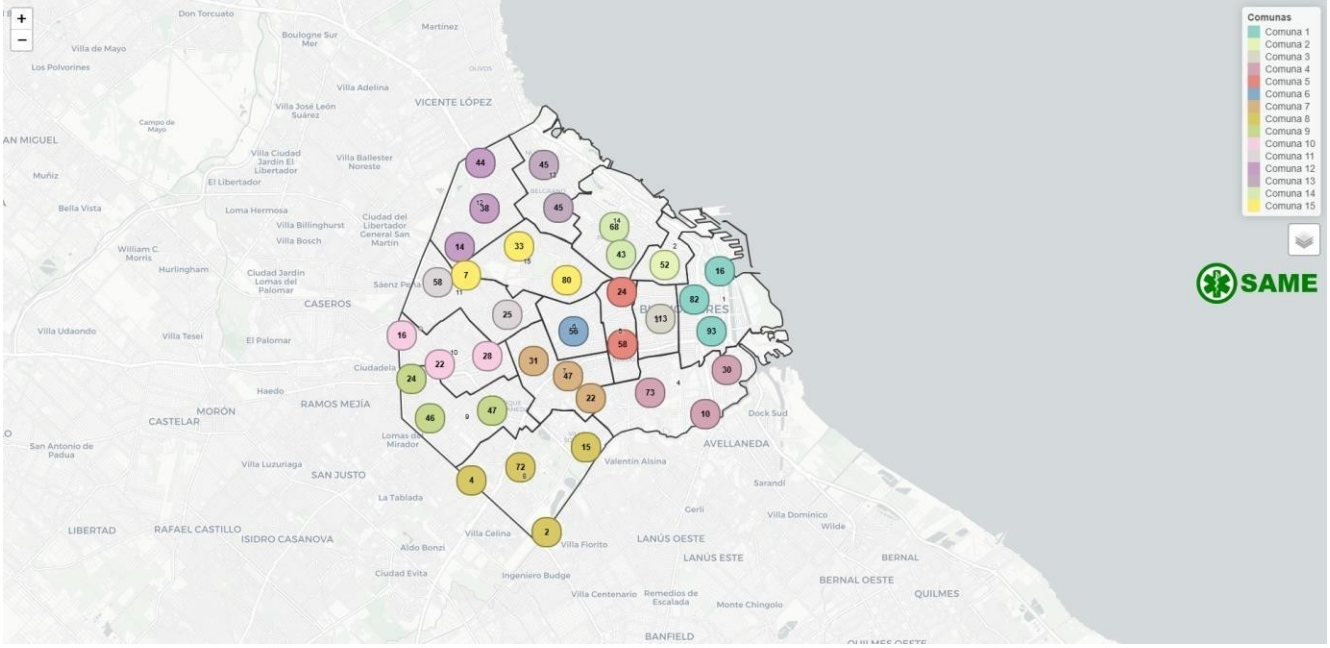

User Instructions

Upon opening the link, a map of the Autonomous City of Buenos Aires (CABA) will be displayed, divided by districts (Comunas). Within each district, circles are grouped containing a number that indicates the total count of traffic incidents within that radius during the 2026 period. The color of each circle varies according to its corresponding district.

Using the “+” and “–” zoom buttons located in the upper-left corner, users can zoom in or out of the map. As the zoom level increases, the information is disaggregated into smaller radii, allowing for the visualization of incidents down to specific street intersections. (Figure 5)

F 5

The colorimetric reference for incidents by district (Comuna) is located in the upper-right corner (indicated by the yellow box), with the map layers icon positioned directly below it (blue box). Hovering the cursor over this icon will display a list of available layers. Layers currently visible on the map are those with a blue checkmark. To hide specific districts or boundary lines, uncheck the corresponding box by clicking the square to the left of the desired option.

By clicking on the colored circles, the map will automatically zoom in to the radius of the selected incidents. This process can be repeated to achieve a higher level of detail, eventually displaying incidents along specific street layouts. Clicking on an individual incident will open its specifications, detailing the incident type, medical transport status (traslado), and geographic coordinates. (FigurE 6)

F 6

DATA REPRODUCIBILITY

The data used in this report were obtained from the Integrated Public Safety System (Sistema Integral de Seguridad Pública - SISeP), covering the period from March 1st, 2026, at 00:00 h to March 31th, 2026, at 24:00 h. The analysis was conducted by applying the specific filters for "vehicle collision", “Vehicule fall” and "run-over," while excluding all associated events. No additional filters were applied to the dataset to ensure the reproducibility of these findings

Monthly Traffic Incident Report 2026 [Informe mensual incidentes de tránsito 2026]. Sistema de Atención Médica de Emergencias (SAME), Gobierno de la Ciudad Autónoma de Buenos Aires. GCBA – ECUES.